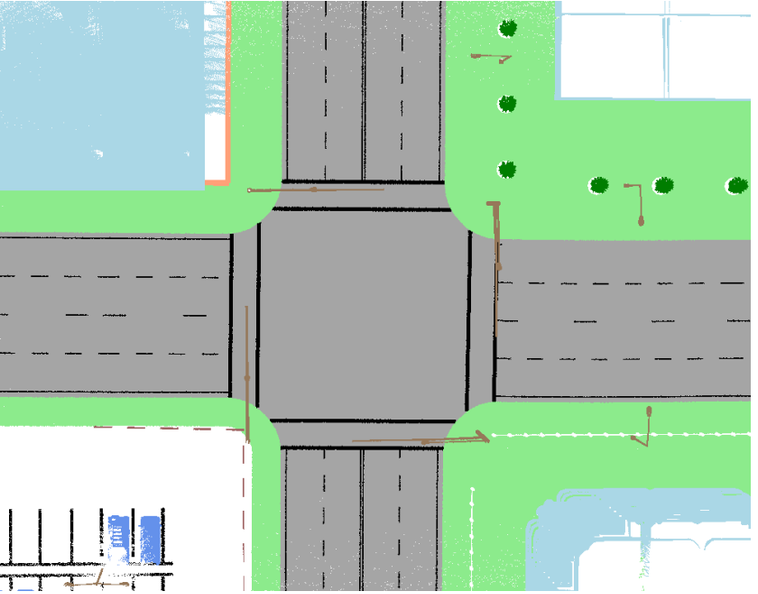

(a) Semantic 3D map

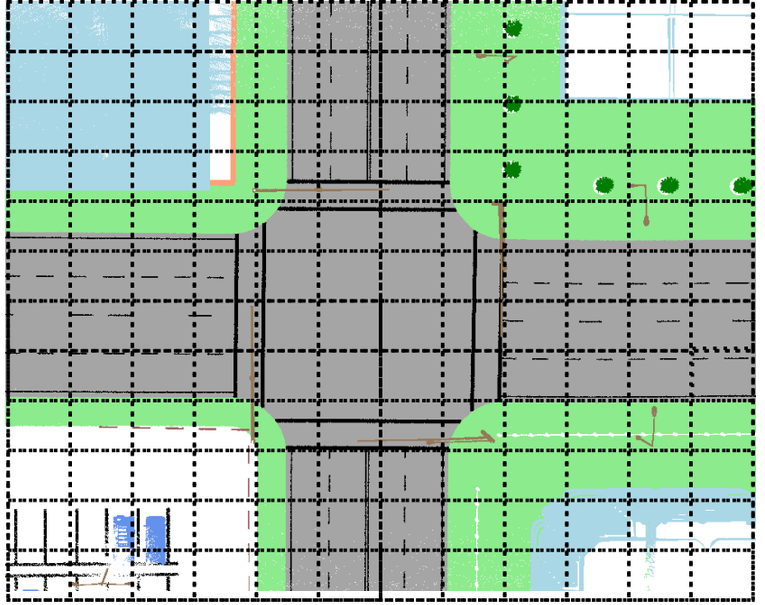

(b) Shared 3D grid structure

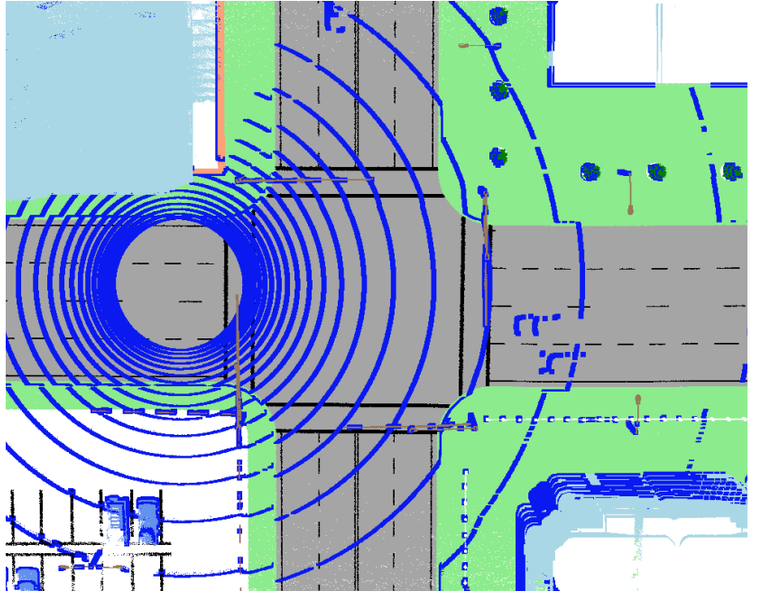

(c) Localized anchor

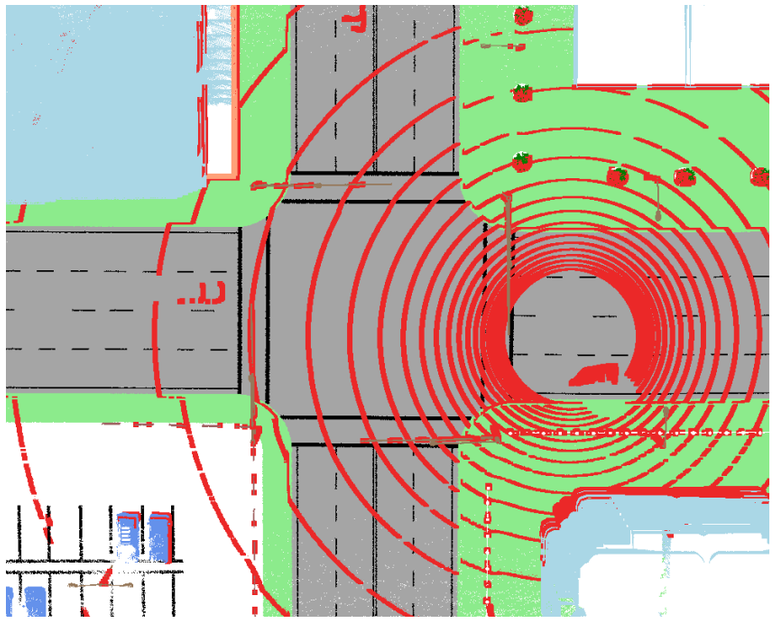

(d) Localized vehicle

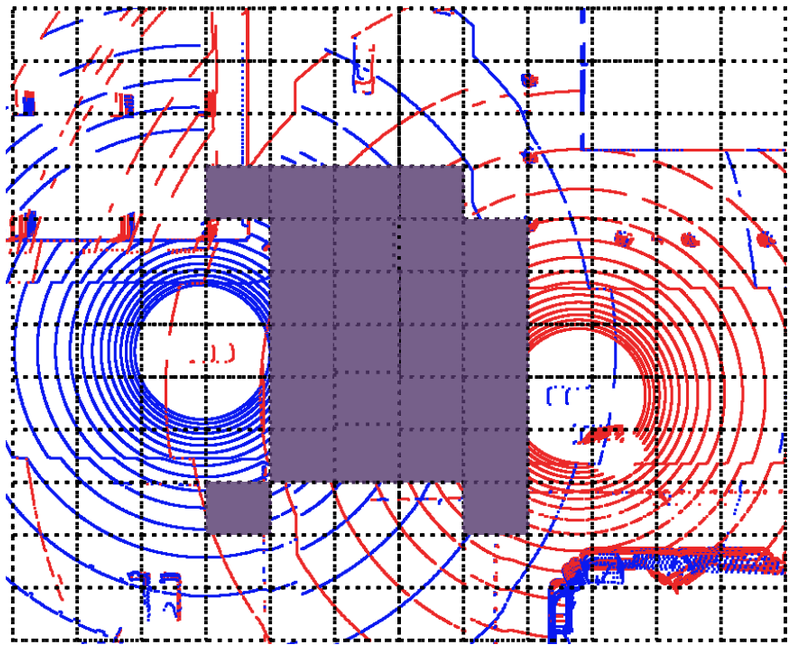

(e) 3D point assignment to grid cells

Anchor point cloud

Vehicle point cloud

Overlapping regions